Meramec Floodplain Tool User Guide

This floodplain prioritization tool is designed to identify critical opportunities for floodplain protection and restoration in the Meramec River basin in Missouri.

The Meramec River – The Nature Conservancy in Missouri

Legal Disclosure and Terms of Use

For more information or to provide feedback about TNC Missouri as it relates to this tool, contact Tom Stevens at *EMAIL*.

Table of Contents

Layout and Content

Header

Filtering Panel

Supporting layers

Map Tools and Widgets

Results Panel

Getting Started

Layout and Content

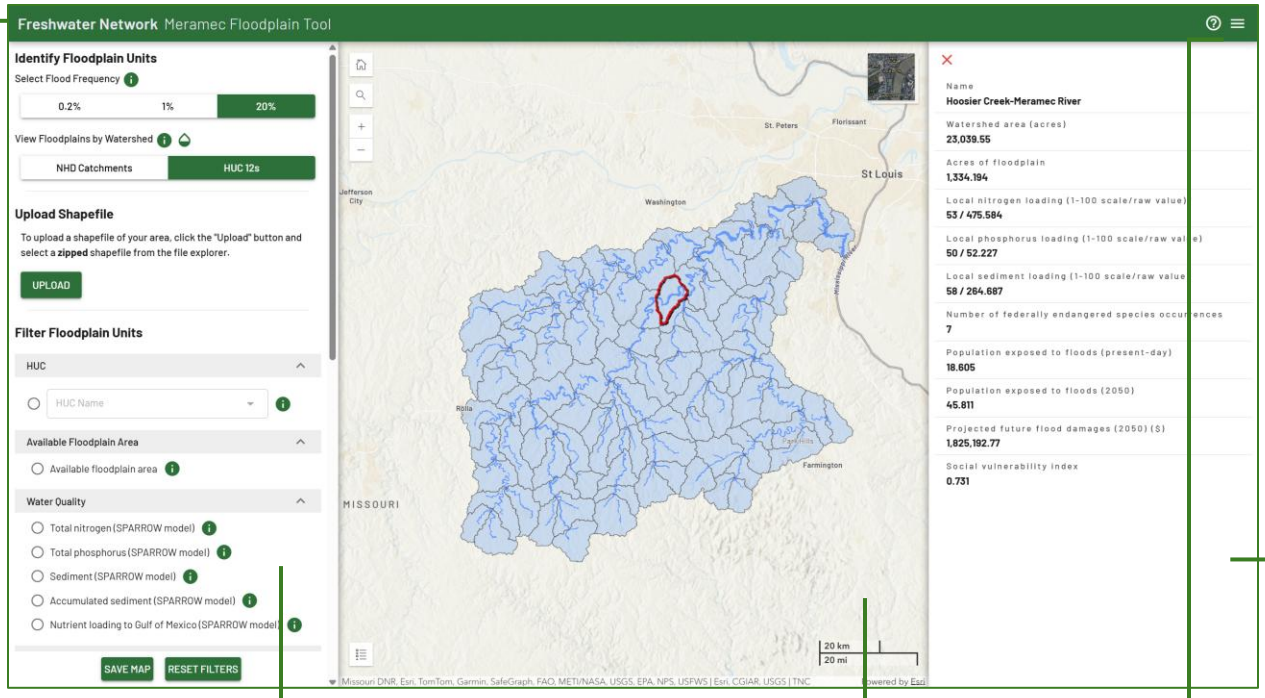

Header and toolbar

Filtering and Layers

Map Container

Selection Results

Header

	Provides links to TNC Missouri's Meramec River Webpage and Terms of Use
	Opens the intro dialogue box

Filtering Panel

	Show or hide info dialog box
	Adjust layer transparency
0.2% 1% 20% NHD Catchments HUC 12s	Select a flood frequency or watershed type
UPLOAD	Upload a zipped shapefile to add to the map
	Expand or close filter option group
	Apply filter selection
HUC Name	Zoom in on a specific HUC watershed
0.0 100.0	Adjust filter minimum and maximum
Present Absent	Adjust filter presence or absence
SAVE MAP	Download current map state and selection results
RESET FILTERS	Reset applied filters

Supporting Layers

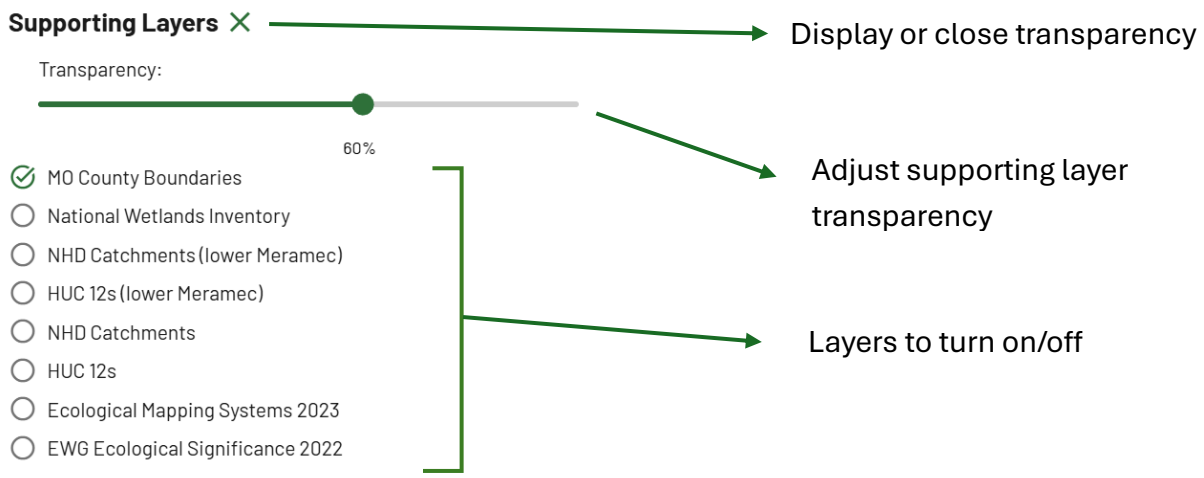

Map Tools and Widgets

	Zoom to default map position
	Search for a location
	Zoom in and zoom out
	Toggle between default basemap and imagery/satellite basemap
	Open or close map legend
	Map scale

Results Panel

✕	Close the results panel/make a new selection

Getting Started

1. In the filtering panel, select your target flood frequency and watershed type.

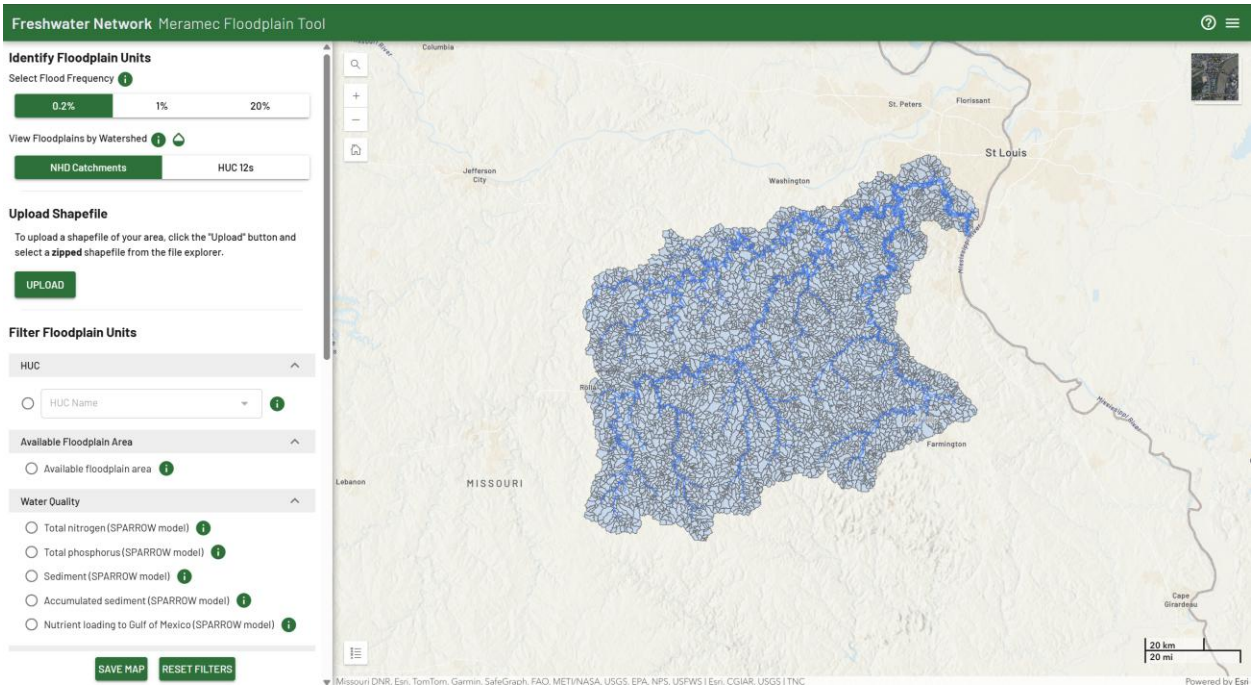

Figure 1: 0.2% Flood Frequency and NHD Catchments selected

2. (Optional) Upload a **zipped** shapefile of your area of interest.

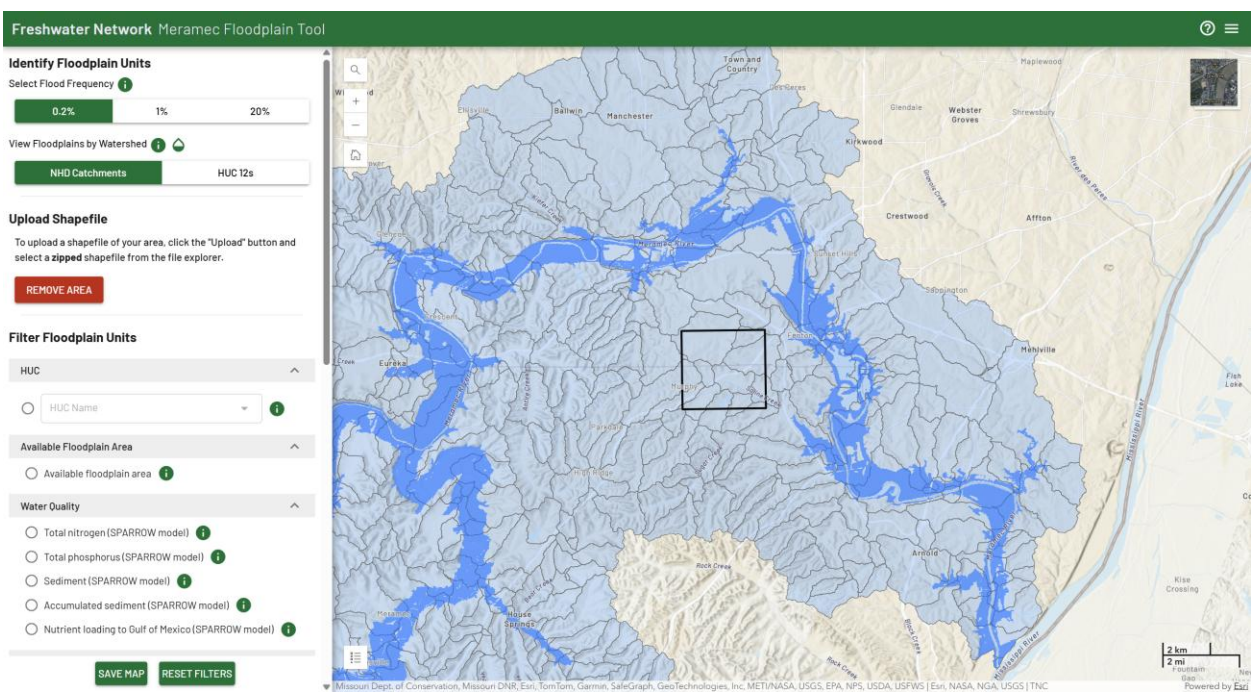

Figure 2: Uploaded, zipped shapefile added to the map

3. Select which filters to apply along with adjusting the corresponding minimum and maximum values.

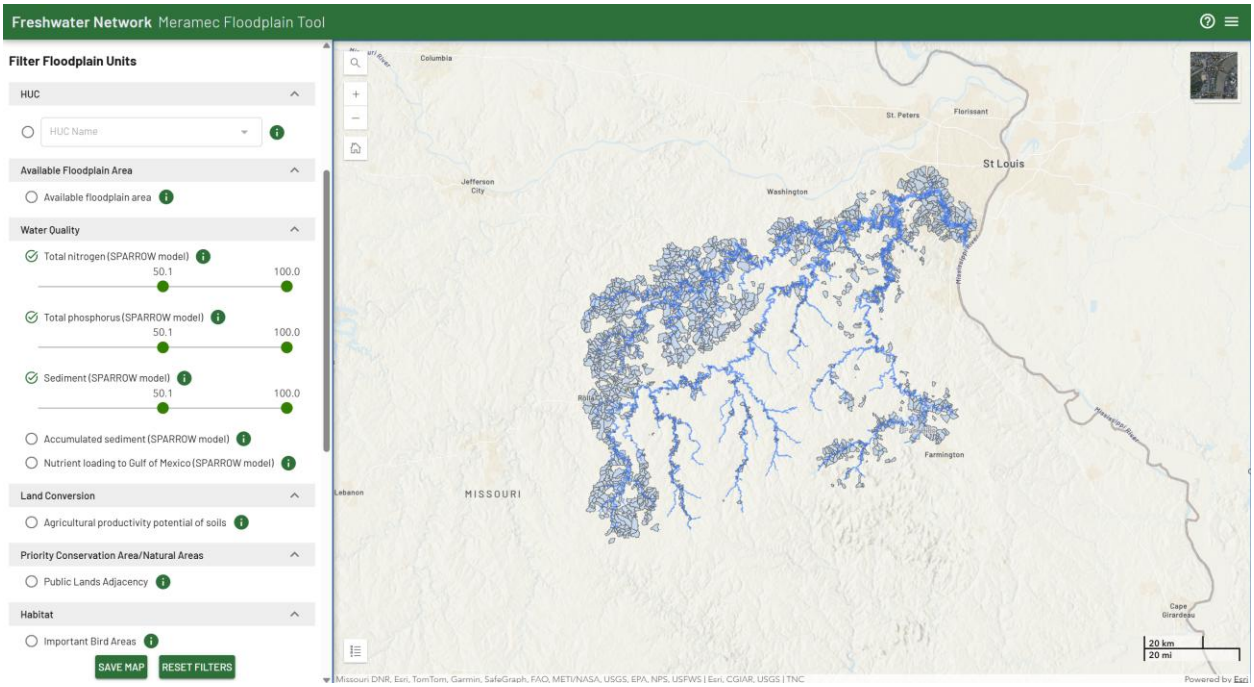

Figure 3: Applied water quality filters

4. Turn on any helpful supporting layers and adjust transparency.

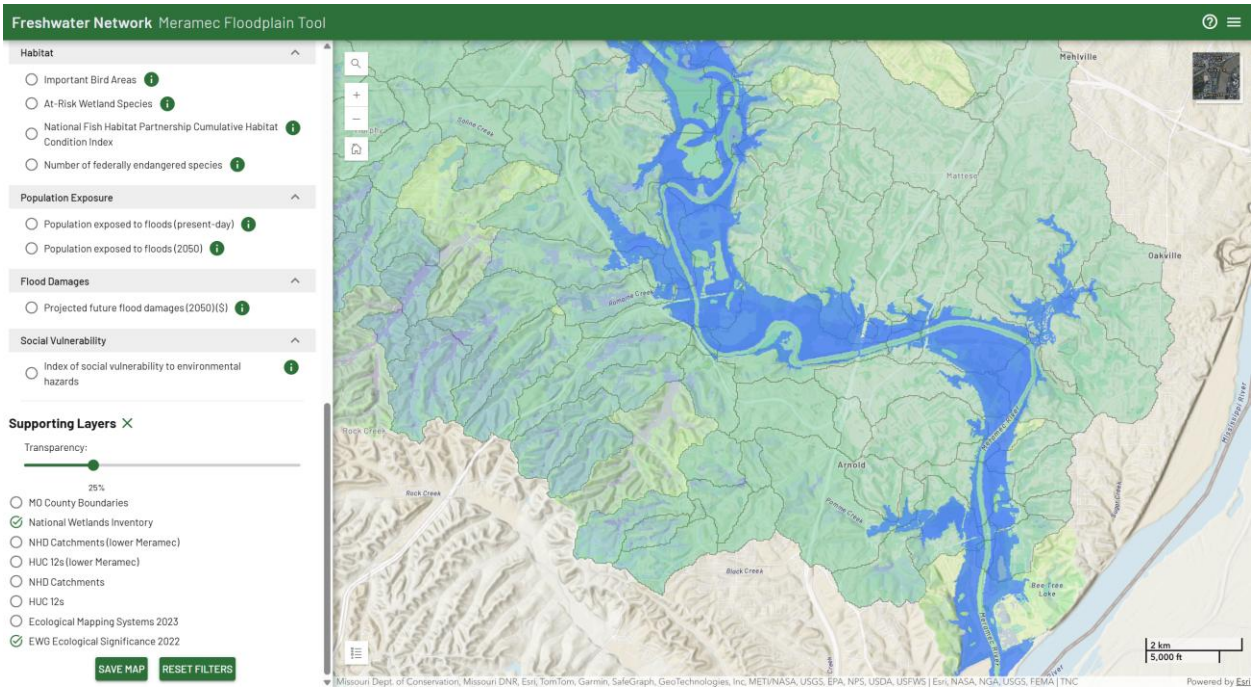

Figure 4: Added the National Wetlands Inventory and the EWG Ecological Significance supporting layers with more transparency

5. Click a watershed on the map to display the results panel.

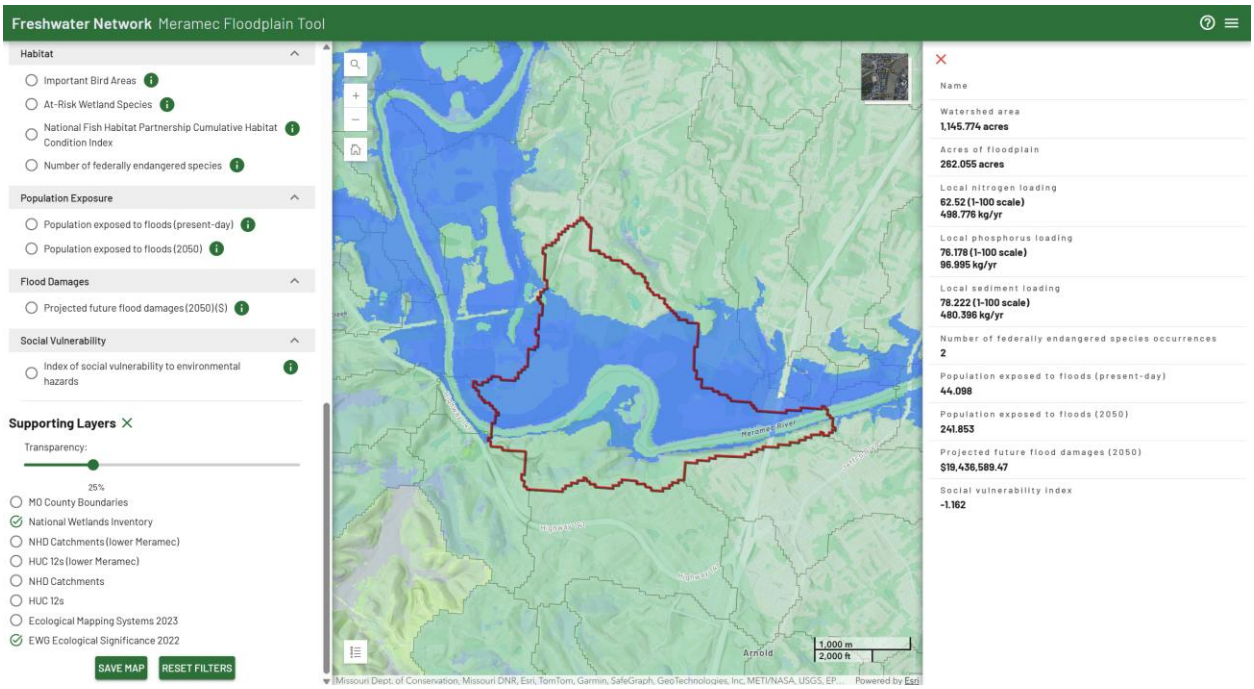

Figure 5: NHD Catchment selected with results displayed

6. Click "Save Map" to download a PDF containing a screenshot of your current map, a list of the applied filters, and the selection results.

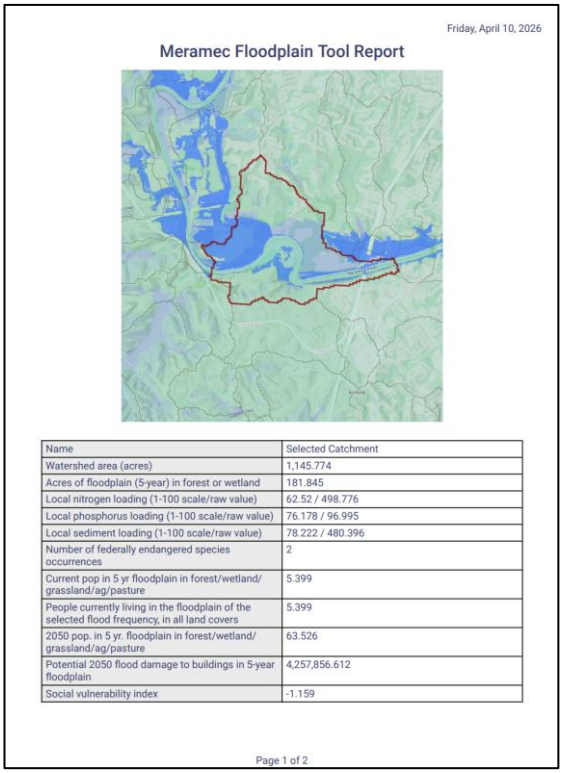

Friday, April 10, 2026

Meramec Floodplain Tool Report

Name	Selected Catchment
Watershed area (acres)	1,145.774
Acres of floodplain (5-year) in forest or wetland	181.845
Local nitrogen loading (1-100 scale/raw value)	62.52 / 498.776
Local phosphorus loading (1-100 scale/raw value)	76.178 / 96.995
Local sediment loading (1-100 scale/raw value)	78.222 / 480.396
Number of federally endangered species occurrences	2
Current pop in 5 yr floodplain in forest/wetland/ grassland/ag/pasture	5.399
People currently living in the floodplain of the selected flood frequency, in all land covers	5.399
2050 pop. in 5 yr. floodplain in forest/wetland/ grassland/ag/pasture	63.526
Potential 2050 flood damage to buildings in 5-year floodplain	4,257,856.612
Social vulnerability index	-1.159

Page 1 of 2



Friday, April 10, 2026

Selected Flood Frequency:
5-Year Floodplain

Selected Watershed Type:
NHD Catchments

Active Supporting Layers:
National Wetlands Inventory
EWG Ecological Significance 2022

Selected Filters:
- **Total nitrogen (SPARROW model)**
  Min: 50
  Max: 100
- **Total phosphorus (SPARROW model)**
  Min: 50
  Max: 100
- **Sediment (SPARROW model)**
  Min: 50
  Max: 100

Page 2 of 2